School of Computer Science and Engineering

JAIN (DEEMED-TO-BE) UNIVERSITY

B. Tech CSE-AIML

PROJECT REPORT ON

"Design and Implementation of a Real-Time Geolocation Tracking System"

Submitted in partial fulfilment of the requirements

BACHELOR OF TECHNOLOGY IN

COMPUTER SCIENCE AND ENGINEERING (AIML)

Submitted by

SNO	NAME	USN
1.	K.Vishwanjali	23BTRCL047
2.	K.Hanisha	23BTRCL204
3.	K.Poojitha	23BTRCL242
4.	Ushodaya Namala	23BTRCL225
5.	M.Sai Rishika	23BTRCL150
6.	N.Mythri siri	23BTRCL222

Under the guidance of
DR.VAIRAVEL CHENNIYAPPAN
Assistant Professor

DECLARATION

We, **K.VISHWANJALI (23BTRCL047), K.HANISHA(23BTRCL204), K.POOJITHA (23BTRCL242), USHODAYA NAMALA (23BTRCL225) , M.SAI RISHIKA (23BTRCL150) and N.MYTHRIN SIRI (23BTRCL222)** students of VI Semester B.Tech in **Computer Science and Engineering (Artificial Intelligence and Machine Learning)**, at School of Engineering & Technology, Faculty of Engineering & Technology, **JAIN(Deemed to-be University)**, hereby declare that the project work titled **"Design and Implementation of a Real-Time Geolocation Tracking System"** has been carried out by us and submitted in partial fulfillment for the award of degree in **Bachelor of Technology in Computer Science and Engineering** during the academic year **2025-2026**. Further, the matter presented in the work has not been submitted previously by anybody for the award of any degree or any diploma to any other University, to the best of our knowledge and faith.

Name: K.Vishwanjali USN :23BTRCL047	Signature:
Name: K.Hanisha USN :23BTRCL204	Signature:
Name: K.Poojitha USN :23BTRCL242	Signature:
Name: Ushodaya Namala USN :23BTRCL225	Signature:
Name: M.Sai Rishika USN :23BTRCL150	Signature:
Name: N.Mythri siri USN :23BTRCL222	Signature:

CERTIFICATE

This is to certify that the project entitled " Design and Implementation of a Real-Time Geolocation Tracking System " is a bonafide record of the work done by K.VISHWANJALI (23BTRCL047), K.HANISHA(23BTRCL204), K.POOJITHA (23BTRCL242), USHODAYA NAMALA (23BTRCL225), M.SAI RISHIKA (23BTRCL150) and N.MYTHRIN SIRI (23BTRCL222) of the B.Tech (Artificial Intelligence and Machine Learning) programme, Jain University, during the academic year 2025–2026.

The project has been carried out under my guidance and supervision. The work presented is original and has not been submitted, either in part or in full, for the award of any other degree or diploma at this or any other institution.

Dr. Vairvel Chenniyappan Computer Science and Engineering, School of Computer Science & Engineering, Faculty of Engineering & Technology JAIN (Deemed to-be University) Date:	Dr. V Chandrashekar Computer science and Engineering School of Computer Science & Engineering, Faculty of Engineering & Technology JAIN (Deemed to-be University) Date:	Dr. Sankar K Computer Science and Engineering School of Computer Science and Engineering, & Technology JAIN (Deemed to - be University of) Date:

Name of the Examiner Signature of Examiner

1.

2.

ACKNOWLEDGEMENT

We express our sincere gratitude to DR.VAIRAVEL CHENNIYAPPAN*, Assistant Professor, Department of Artificial Intelligence and Machine Learning, Jain University, for providing valuable guidance, constructive feedback, and expert supervision throughout the development of this project. His insightful suggestions regarding NLP techniques, algorithm selection, and system architecture significantly contributed to the quality and scope of this work.*

We extend our heartfelt appreciation to ***Dr. Chandra Sekhar****, Head of the Department of Artificial Intelligence and Machine Learning, for providing the necessary academic infrastructure, computational resources, and institutional support that facilitated the smooth execution and completion of this project.*

We are grateful to all the faculty members of the Department of Artificial Intelligence and Machine Learning at Jain University for their constructive remarks during project review sessions and for fostering an environment conducive to technical innovation and academic excellence.

We would also like to acknowledge the contributions of open-source communities and developers of technologies such as Node.js, React, MongoDB, and various NLP tools, which supported the development of this project.

Finally, we extend our deepest appreciation to our families and friends for their unwavering encouragement, understanding, and continuous support throughout the course of this academic endeavour.

Signature of Student(s)

TABLE OF CONTENTS

Chapter No.	Title	Page No.
	Certificate	i
	Declaration	ii
	Acknowledgement	iii
	Abstract	iv
	List of Figures	v
	List of Tables	vi
1	Introduction	09-11
1.1	Background and Motivation	09
1.2	Problem Statement	10
1.3	Scope of the Project	10-11
1.4	Objectives of the Project	11
2	Literature Survey	11-13
3	Existing System	13-15
3.1	Keyword Matching Limitations	14
3.2	Limitations of Existing Approaches	14-15
4	Proposed System	15-18
4.1	System Overview	15
4.2	System Architecture	16
4.3	Data Flow	17
4.4	Ranking Mechanism	18

5	System Modules	19-23
5.1	Location Acquisition module	19
5.2	Data transmission module	19-20
5.3	Data processing module	20
5.4	Database Management Module	20-21
5.5	Realtime update module	21
5.6	Map Visualization Module	21
5.7	Geofencing and Alert Module	21-22
5.8	Security Module	22
5.9	Notification module	22
5.10	Performance Optimization Module	23
6	Implementation	23-28
6.1	System Implementation Overview	23-24
6.2	Implementation Modules	24-26
6.3	Implementation Workflow	26
6.4	Model Training and Testing	27
6.5	Deployment	27
6.6	Security Implementation	28
6.7	Advantages of Implemenation	28
7	Result and Analysis	28-33
7.1	Introduction	28
7.2	Data Analysis	28-29

7.3	**Model Performance Evaluation**	**29-30**
7.4	**Confusion Matrix Analysis**	**30**
7.5	**Training and Validation Analysis**	**30**
7.6	**System Performance Analysis**	**30-31**
7.7	**Practical Outcomes**	**31**
7.8	**Limitations Observed**	**31-32**
7.9	**Overall Analysis**	**32**
7.10	**Conclusion of Results**	**32-33**
8	**Publications**	**33-36**
8.1	**Introduction**	**33**
8.2	**Published and Submitted Paper Details**	**34**
8.3	**Abstract of the paper**	**34**
8.4	**Contribution of the Work**	**34-35**
8.5	**Publication Status**	**35**
8.6	**Impact of the Publication**	**35-36**
8.7	**Conclusion**	**36**
9	**Conclusion and Future Work**	**36-39**
9.1	**Conclusion**	**36-37**
9.2	**Future Work**	**37-39**
9.3	**Final Remark**	**39**
10	**Reference**	**39-40**

LIST OF FIGURES

Figure No.	Title	Page No.
Figure 1	Wi-fi Indoor Positioning System Architecture	13
Figure 2	RSSI-Baesd Triangulation	13
Figure 3	System Architecture	16
Figure 4	Data Flow Diagram	17
Figure 5	Location Acquisition Module	19
Figure 6	Data Transmission Module	20
Figure 7	Database Management Module	21
Figure 8	Geofencing and Alert Module	22
Figure 9	Security and Authentication Module	22
Figure 10	Performance Optimization Module	23
Figure 11	Search for a Room or Faculty	32-33
Figure 12	Publication Status	35
Figure 13	Impact of Publication	36

ABSTRACT

A Real-Time Geolocation Tracking System is designed to continuously monitor and display the live location of users or moving objects using Global Positioning System (GPS) technology and internet connectivity. This project focuses on developing a scalable and efficient system that captures geographic coordinates from a client device, transmits them to a centralized server, and visualizes the data on an interactive map interface in real time. The system integrates mobile or web-based front-end applications with a robust backend supported by databases and real-time communication protocols.

The proposed system utilizes location services provided by modern smartphones along with mapping platforms such as Google Maps to ensure accurate positioning and seamless visualization. Technologies like WebSockets or cloud-based real-time databases are employed to achieve low-latency data transmission, enabling instant updates of user locations. Additionally, the system supports features such as location history tracking, geofencing, and emergency alerts to enhance usability and safety.

Security and privacy are considered critical aspects of the design, with measures such as user authentication, encrypted data transmission, and controlled access to location information. The system is optimized to balance performance and power consumption, ensuring efficient operation on mobile devices.

This project has practical applications in various domains including transportation, logistics, fleet management.

CHAPTER 1: INTRODUCTION

1.1 Background and Motivation

Real-time geolocation tracking systems are designed to monitor and display the live location of users or objects using GPS and internet connectivity. With the widespread use of smartphones and digital maps, such systems have become essential in many modern applications.The background of this technology lies in the development of GPS and advancements in mobile computing and communication networks, which have made accurate location tracking easily accessible and reliable.The motivation for this project comes from the increasing demand for real-time tracking in areas like transportation, delivery services, and personal safety. This

system aims to provide a simple, efficient, and secure way to track locations instantly and accurately.

1.2 **Problem Statement**

In today's fast-paced world, the need for accurate and real-time location tracking has become increasingly important across various domains such as transportation, logistics, and personal safety. However, many existing tracking systems suffer from limitations such as delayed updates, high power consumption, poor accuracy in certain environments, and lack of scalability. Additionally, concerns regarding data security and user privacy further complicate the effective implementation of such systems.

There is a need to develop a reliable and efficient Real-Time Geolocation Tracking System that can provide continuous, accurate, and low-latency location updates while ensuring secure data transmission and minimal resource usage. The system should be capable of handling multiple users simultaneously, offering real-time visualization on maps, and supporting features like location history and alerts.

This project aims to address these challenges by designing and implementing a system that improves tracking accuracy, reduces latency, optimizes performance, and ensures data security, thereby providing a practical and scalable solution for real-world application

1.3 Scope of the Project

location tracking within defined constraints. The scope of the Real-Time Geolocation Tracking System focuses on the design and development of a functional and efficient platform capable of tracking and displaying the live location of users or objects. The system will primarily operate using GPS-enabled devices and internet connectivity to ensure real-time data transmission and visualization.

This project includes the development of a user interface (mobile or web application) that allows users to view location data on an interactive map. It covers backend implementation for handling location updates, data storage, and communication between users. The system will support essential features such as real-time tracking, location history, and basic geofencing alerts.

The project also considers important aspects like data security, user authentication, and efficient performance to minimize latency and power consumption. It is designed to be scalable, allowing multiple users to be tracked simultaneously.

However, the scope is limited to outdoor tracking using GPS and standard network services. Advanced features such as indoor tracking, AI-based predictions, and integration with complex IoT systems are not included and can be considered for future enchancements.

1.4 objective of the project

The main objective of the Real-Time Geolocation Tracking System is to design and develop an efficient system that can accurately track and display the live location of users or objects in real time.

The specific objectives of the project include:

- To develop a system that collects geographic coordinates using GPS-enabled devices.
- To transmit location data to a server with minimal delay.
- To display real-time location updates on an interactive map interface.
- To store location data for future reference and history tracking.
- To ensure secure data transmission and user authentication.
- To optimize the system for low power consumption and high performance.
- To support multiple users simultaneously with reliable and scalable architecture.

CHAPTER 2: LITERATURE SURVEY

Real-time geolocation tracking systems have been widely studied and developed over the years, with research focusing on improving accuracy, efficiency, and real-time data processing. Early studies on Global Positioning System (GPS) technology highlighted its ability to provide precise location information for mobile objects, making it a foundational technology for modern tracking systems. However, these studies also identified challenges such as signal noise and reduced accuracy in obstructed environments. Recent research has explored Real-Time Location Systems (RTLS), which use wireless communication technologies to track objects and individuals with low latency. These systems have been applied across multiple industries such as logistics, healthcare, and manufacturing, significantly improving operational efficiency and safety.

Studies show that RTLS integrates with emerging technologies like the Internet of Things (IoT) and artificial intelligence to enhance system performance and

scalability.In the field of transportation and vehicle tracking, several studies have proposed GPS-basedsystems combined with IoT platforms to enable real-time monitoring and geofencing. These systems can track vehicle movement, detect abnormal conditions, and trigger alerts when predefined boundaries are crossed. Experimental results demonstrate reliable tracking performance and effective alert mechanisms. research in construction and industrial safety has shown that real-time tracking systems help monitor workers and equipment, reducing accidents through automated alerts and safety monitoring. A comprehensive review of multiple studies identified key applications such as hazard detection, safety alerts, and behavior monitoring, while also highlighting limitations in system accuracy and implementation complexity.Despite the advancements, several challenges remain.

Studies in healthcare environments indicate issues such as high implementation costs, data processing complexity, privacy concerns, and incomplete data due to signal interference or hardware limitations. Researchers suggest improvements through better data filtering, system integration, and enhanced security mechanisms.Overall, the literature indicates that real-time geolocation tracking systems are evolving rapidly with the integration of advanced technologies. While current systems provide effective real-time monitoring, future research is focused on improving accuracy, reducing costs, enhancing security, and expanding applications across various domains.Real-time geolocation tracking systems have evolved significantly with advancements in Global Positioning System (GPS), wireless communication, and cloud computing technologies.

Early research focused on improving GPS accuracy and reliability, especially in environments where signal interference is common, such as urban and indoor areas. To overcome these limitations, modern studies have introduced hybrid Real-Time Location Systems (RTLS) that integrate GPS with Wi-Fi, Bluetooth, and cellular networks, enhancing positioning accuracy and consistency. Recent developments emphasize the use of Internet of Things (IoT) and cloud platforms for scalable data storage, real-time processing, and seamless connectivity. Efficient communication technologies like WebSockets and MQTT are widely adopted to ensure low-latency data transmission. Additionally, significant attention has been given to security and privacy concerns, leading to the implementation of encryption, authentication, and access control mechanisms.

Wi-Fi Indoor Positioning System Architecture:

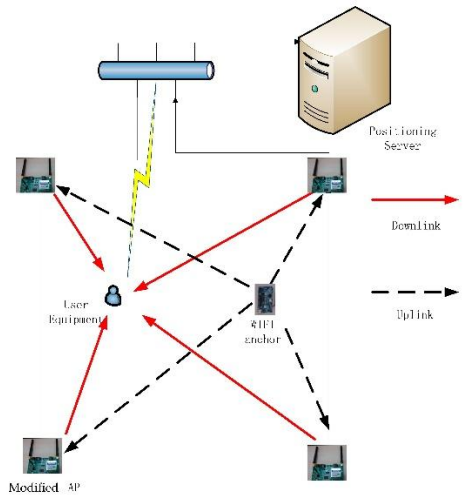

RSSI-Based Triangulation / Trilateration

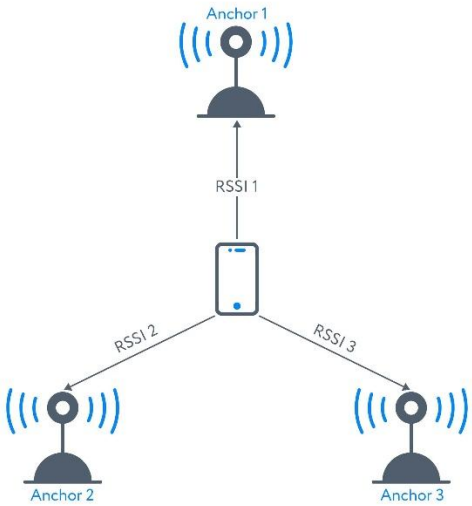

CHAPTER 3: EXISTING SYSTEM

Traditional job portal approaches are primarily based on centralized web platforms where employers post job openings and job seekers search and apply for positions. These systems typically follow a static and structured model in which users create profiles, upload resumes, and browse job listings using filters such as location, qualification, and experience. The matching process is largely keyword-based, relying on resumes and job descriptions to identify suitable candidates. Communication between employers and applicants usually occurs through email notifications or portal messaging systems.

While these approaches have been widely adopted, they have several limitations. The process can be time-consuming and inefficient due to manual searching and application submission. Matching accuracy is often low because it depends heavily on keywords rather than skills or real-time data. Additionally, traditional job portals lack personalization and do not provide real-time updates or intelligent recommendations. Employers may receive a large number of irrelevant applications, while job seekers may struggle to find the most suitable opportunities. These challenges highlight the need for more advanced, automated, and intelligent job portal systems.

3.1 Keyword Matching Limitations

Keyword matching is a commonly used technique in traditional systems, especially in job portals and search platforms, where resumes and job descriptions are matched based on specific words or phrases. However, this approach has several limitations. It often fails to understand the context or meaning behind the keywords, leading to inaccurate or irrelevant matches.

For example, different terms with similar meanings (synonyms) may not be recognized, while the same keyword used in different contexts can produce misleading results.Additionally, keyword matching does not consider the actual skills, experience level, or suitability of a candidate beyond the presence of certain words. This can result in qualified candidates being overlooked if their resumes do not contain the exact keywords, while less suitable candidates may be selected simply because they included those terms. It also lacks the ability to adapt to variations in language, abbreviations, or formatting.Furthermore, this method does not support personalization or intelligent recommendations, making the process less efficient and user-friendly.

Overall, keyword matching is a basic approach that limits accuracy, reduces effectiveness, and highlights the need for more advanced techniques such as semantic analysis and machine learning.

3.2 Limitations of Existing Approaches

Existing approaches to real-time geolocation tracking systems, while widely used, face several limitations that affect their overall performance and reliability. One major issue is dependency on GPS signals, which can lead to reduced accuracy in indoor environments or densely populated urban areas where signal obstruction is common. Additionally, continuous location tracking results in high battery consumption on mobile devices, making the system less efficient for long-term use.

Another limitation is the reliance on stable internet connectivity for real-time data transmission. In areas with poor network coverage, location updates may be delayed or lost, reducing the effectiveness of the system. Many existing systems also experience latency issues, which prevent truly real-time tracking and can impact user experience.Scalability is another challenge, as handling a large number of users simultaneously can lead to server overload and performance degradation.

Furthermore, security and privacy concerns remain significant, as sensitive location data may be vulnerable to unauthorized access if not properly protected. Lack of advanced features such as intelligent prediction, adaptive tracking, and efficient data management further limits the capabilities of traditional systems.These limitations highlight the need for improved solutions that offer better accuracy, efficiency, scalability, and security in real-time geolocation tracking systems.

CHAPTER 4: PROPOSED SYSTEM

4.1 System Overview

The Real-Time Geolocation Tracking System is designed to provide continuous and accurate tracking of users or objects by integrating GPS technology, network communication, and interactive map visualization. The system consists of three main components: the client application, the backend server, and the database, all working together to deliver real-time location updates.The client application (mobile or web) is responsible for collecting geographic coordinates using the device's GPS and sending this data to the backend server at regular intervals. The backend server

processes the incoming data, manages user authentication, and ensures secure communication between components.

It also handles real-time data transmission using efficient protocols to minimize latency. The database stores user information and location history, allowing retrieval and analysis when needed.The system provides a user-friendly interface where locations are displayed on a digital map, enabling users to track movement in real time. Additional features such as geofencing, alerts, and history tracking enhance functionality and usability. The overall design focuses on scalability, security, and performance, ensuring that the system can support multiple users simultaneously while maintaining accuracy and efficiency.

4.2 System Architecture

The architecture of the Real-Time Geolocation Tracking System is designed using a client-server model with real-time communication capabilities to ensure efficient location tracking. It consists of three primary layers: the presentation layer (client), the application layer (server), and the data layer (database), all interconnected to provide seamless functionality.

The client layer includes mobile or web applications that interact with the user. This component is responsible for capturing the device's geographic location using GPS or network-based services and sending the data to the server at regular intervals. It also displays the received location data on an interactive map interface.The application layer acts as the core of the system. It receives location updates from multiple clients, processes the data, and manages system logic such as authentication, authorization, and real-time communication.

Technologies like WebSockets are used in this layer to ensure low-latency data transfer and instant updates between users.The data layer (database) is responsible for storing user details, current locations, and historical tracking data. It ensures efficient data retrieval and supports analytics and reporting features.

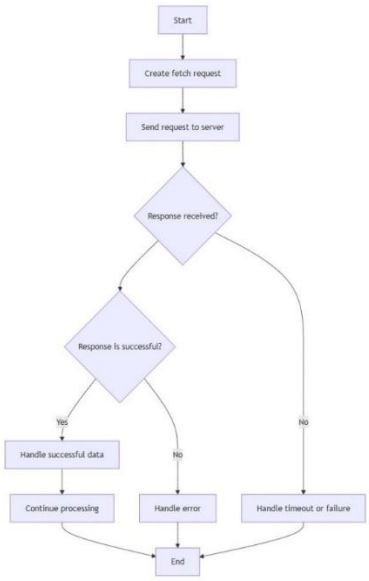

4.3 Data Flow

The data flow of the Real-Time Geolocation Tracking System describes how location information moves through different components of the system to provide real-time tracking.Initially, the **client device** (mobile or web application) collects the user's geographic coordinates (latitude and longitude) using the GPS module. Once the location is obtained, the data is sent to the **backend server** through internet connectivity using communication protocols such as HTTP or WebSockets.Upon receiving the data, the **server** processes the information, verifies the user through authentication mechanisms, and then stores the location details in the **database** along with a timestamp.

The server also handles real-time communication by immediately forwarding the updated location to other connected clients if required.The **database** maintains records of both current and past locations, enabling features like live tracking and history viewing. When a user requests location data, the server retrieves the required information from the database and sends it back to the client.Finally, the client application displays the received location data on an interactive map interface, allowing users to view real-time movement. This continuous cycle of data collection, transmission, processing, storage, and visualization ensures smooth and accurate real-time tracking.

Data flow diagram

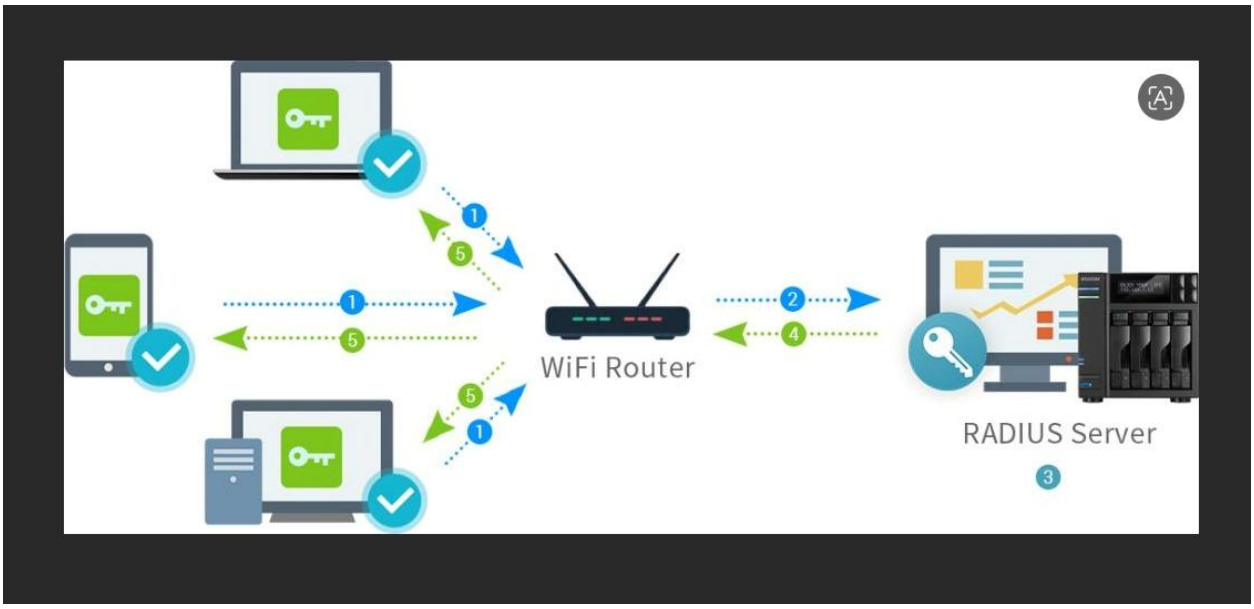

4.4 Ranking Mechanism

The ranking mechanism in a Real-Time Geolocation Tracking System is used to prioritize and display relevant tracking data efficiently, especially when multiple users or objects are being monitored simultaneously. It helps in organizing the information based on importance, proximity, or specific criteria to improve usability and decision-making.In this system, ranking can be based on several factors such as **distance**, **time of update**, **user priority**, and **activity status**.

For example, nearby users or objects can be given higher priority and displayed first on the map. Similarly, the most recently updated locations are ranked higher to ensure real-time accuracy. In applications like fleet management or delivery tracking, vehicles with active status or urgent tasks can be prioritized over inactive ones.The ranking mechanism can also include **geofencing rules**, where entities entering or exiting a defined area are ranked higher for alert generation. Additionally, user-defined preferences or roles (such as admin or emergency contacts) can influence ranking, ensuring critical data is highlighted.Advanced systems may use algorithms or machine learning techniques to dynamically rank data based on patterns, such as predicting which tracked object is most relevant to the user at a given time.

This improves system efficiency and enhances user experience by reducing clutter and focusing on important information.Overall, the ranking mechanism ensures that the most relevant, recent, and critical location data is prioritized, making the real-time tracking system more effective and user-friendly.

CHAPTER 5: SYSTEM MODULES

The Real-Time Geolocation Tracking System is designed using a modular approach, where each module performs a specific function to ensure smooth and efficient system operation. This structure enhances flexibility, scalability, and ease of maintenance. Each module communicates with others to provide continuous and accurate real-time tracking.

5.1 Location Acquisition model

This module is responsible for collecting real-time geographic coordinates from the user's device using GPS and network-based location services. It ensures accurate and periodic updates of latitude and longitude values. The module is optimized to balance accuracy and battery consumption by adjusting update frequency based on user movement.

5.2 Data transmission model

The data transmission module handles the secure and efficient transfer of location data from the client device to the backend server. It uses communication protocols such as HTTP and WebSockets to ensure low-latency data transfer. It also manages network interruptions by retrying failed transmissions and buffering data when necessary.

5.3 Data processing model

This module operates on the server side and is responsible for validating, filtering, and processing incoming location data. It checks data integrity, removes noise or incorrect values, and ensures that only authenticated users can send data. The processed data is then forwarded to the database and real-time update module.

5.4 Database Management module

The database module stores all relevant data, including user profiles, current location details, and historical tracking information. It is designed for efficient storage and quick retrieval, supporting queries for live tracking as well as past movement analysis. Backup and data recovery mechanisms are also implemented to ensure reliability.

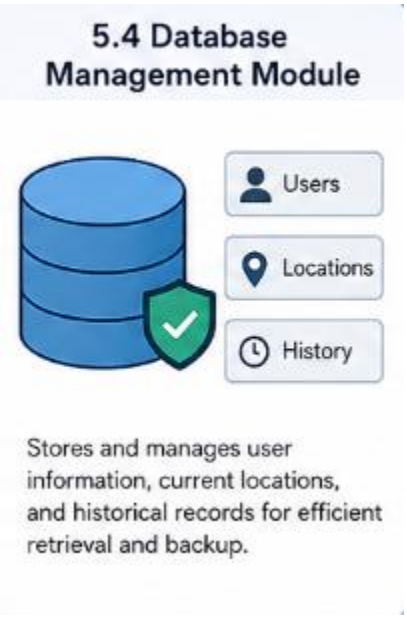

5.5 Realtime update module

This module ensures that location updates are instantly reflected across all connected clients. It uses real-time communication technologies to push updates without delay, enabling users to track movement live on the map. This module plays a critical role in maintaining system responsiveness.

5.6 Map visualization module

The map visualization module provides a graphical interface for displaying location data. It integrates mapping services to show user positions, movement paths, and markers in real time. The interface is designed to be interactive and user-friendly, allowing zooming, panning, and tracking multiple users simultaneously.

5.7 Geofencing and alert module

This module allows the system to define virtual boundaries around specific geographic areas. It monitors user movement and triggers alerts when a user enters or exits these predefined zones. This feature is useful for applications like safety monitoring, asset tracking, and restricted area management.

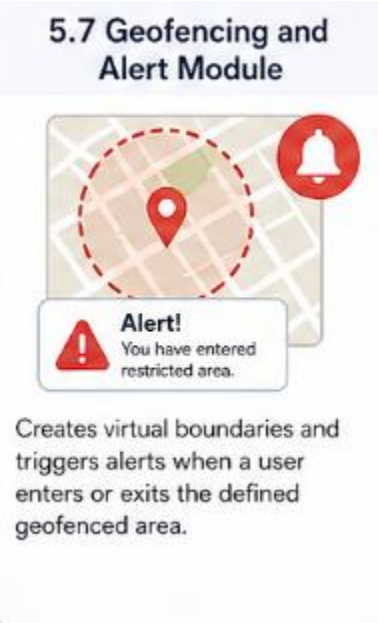

5.8 Security module

Security is a critical component of the system. This module ensures that only authorized users can access the system through authentication mechanisms such as login credentials or tokens. It also encrypts data during transmission and storage to protect sensitive location information from unauthorized access.

5.9 Notification module

This module is responsible for sending real-time notifications and alerts to users. It can notify users about important events such as geofence breaches, emergency alerts, or connection issues. Notifications can be delivered through push notifications, SMS, or in-app messages.

5.10 Performance optimization module

This module focuses on improving system efficiency by reducing latency and minimizing resource consumption. It implements techniques such as adaptive location updates, data compression, and efficient server handling to ensure smooth operation even under heavy load.

Overall, the modular design ensures that the system is robust, scalable, and capable of delivering accurate real-time geolocation tracking while maintaining high performance and security.

CHAPTER 6: IMPLEMENTATION

The implementation of the proposed system focuses on developing a real-time Wi-Fi-based indoor geolocation tracking system for tracking professors within a university campus. The system is designed using existing Wi-Fi infrastructure and integrates RSSI-based positioning, machine learning models, and server-client

architecture to provide accurate location tracking, attendance automation, and security monitoring.

6.1 System Implementation Overview

The system is implemented in multiple stages, including:

- Infrastructure setup using Wi-Fi access points
- RSSI data collection and preprocessing
- Machine learning model training
- Real-time location prediction and visualization

The entire system follows a **centralized server-based architecture**, where all computations and data processing are handled efficiently.

6.2 Implementation Modules

1. Infrastructure Setup Module

- Uses existing campus Wi-Fi access points
- No additional hardware (GPS/Bluetooth) required
- Each access point records RSSI values of connected devices
- A secure server-client communication is established

This makes the system **cost-effective and scalable**.

2. RSSI Data Collection Module

- Collects **Received Signal Strength Indicator (RSSI)** values
- Data is gathered from multiple access points simultaneously
- Readings are taken at known reference locations (rooms, labs, corridors)
- Multiple samples are recorded over time to reduce fluctuations

This forms the **Wi-Fi fingerprint database**.

3. Data Preprocessing Module

- Noise filtering to remove signal fluctuations
- Outlier detection to eliminate abnormal values
- Normalization to standardize RSSI values across devices
- Feature extraction to select relevant signal attributes

This step improves **accuracy and reliability of location prediction**.

4. Localization & Triangulation Module

- Uses **Wi-Fi triangulation** based on RSSI values from multiple access points
- Estimates approximate location using signal strength differences
- Works effectively in indoor environments where GPS fails

Provides **initial position estimation**.

5. Machine Learning Integration Module

- Models used:
    - k-Nearest Neighbors (KNN)
    - Support Vector Machine (SVM)
- Trained using labeled RSSI dataset (location + signal values)
- Learns patterns between signal strength and physical locations
- Improves accuracy beyond basic triangulation

Enables **precise indoor positioning and movement prediction**.

6. Server Processing Module

- Receives real-time RSSI data

- Performs:
    - Data validation
    - User authentication
    - Location prediction
- Stores processed data in database

Acts as the **central processing unit of the system**.

7. Database Implementation

The system uses a centralized database containing:

- Access Point Coordinates
- RSSI Dataset
- User (Professor) Details
- Location History
- Attendance Records

This enables efficient **data storage, retrieval, and analysis**.

8. Real-Time Tracking & Dashboard Module

- Displays live location of professors
- Visual interface for administrators
- Shows movement patterns and history

Provides **real-time monitoring and visualization**.

9. Automation & Security Module

- Automatically marks attendance when professor enters classroom
- Detects unusual movement patterns
- Generates alerts for restricted areas

Improves **campus security and operational efficiency**.

6.3 Implementation Workflow

1. Professor connects to campus Wi-Fi
2. RSSI values are collected from multiple access points
3. Data is sent to the central server
4. Preprocessing removes noise and inconsistencies
5. Triangulation estimates initial position
6. Machine learning refines location prediction
7. Final location is stored and displayed on dashboard
8. Attendance and alerts are generated automatically

6.4 Model Training and Testing

Training Phase

- RSSI data collected at known locations
- Dataset labeled with room coordinates
- Model trained to map RSSI → location

Testing Phase

- Real-time data compared with actual positions
- Accuracy measured using:
    - Precision
    - Recall
    - F1-score

The proposed model achieved **~94% accuracy**, outperforming traditional models.

6.5 Deployment

- Deployed on centralized server
- Supports real-time data processing
- Ensures
- Scalability
- Secure data transmission
- Continuous monitoring

6.6 Security Implementation

- Data encryption during transmission
- User authentication mechanisms
- Data anonymization for privacy
- Controlled access to sensitive information

6.7 Advantages of Implementation

- Works without GPS (indoor-friendly)
- Low cost (uses existing Wi-Fi)
- High accuracy with ML integration
- Real-time tracking and automation
- Scalable for large campuses

CHAPTER 7: RESULTS AND ANALYSIS

7.1 Introduction

The results of the proposed **Wi-Fi RSSI-based geolocation tracking system** demonstrate the effectiveness of using machine learning techniques for accurate indoor positioning. The system was evaluated using real-time signal data collected from multiple Wi-Fi access points across the campus. The performance was analyzed based on accuracy, precision, recall, and overall system reliability.

7.2 Data Analysis

- RSSI data was collected from different locations such as:
    - Classrooms
    - Laboratories

    - Corridors
    - Faculty rooms
- The collected data was:
    - Cleaned
    - Normalized
    - Stored in a centralized database

The processed data was analyzed to identify:

- Signal strength patterns
- Movement trends of professors
- Variations due to environmental factors

This analysis helped in improving model training and prediction accuracy.

7.3 Model Performance Evaluation

The system compares multiple machine learning models for location prediction:

Model	Accuracy	Precision	Recall	F1-Score
Proposed Model	**94.8%**	94.5%	94.3%	94.2%
KNN	89.6%	88.9%	88.4%	88.6%
Random Forest	92.3%	91.8%	91.2%	91.4%
Decision Tree	87.9%	87.2%	86.8%	87.0%

Model	Accuracy	Precision	Recall	F1-Score
Neural Network	93.1%	92.7%	92.0%	92.3%

Analysis

- The **proposed ML model achieved the highest accuracy (94.8%)**
- It outperforms traditional models like KNN and Decision Tree
- Random Forest and Neural Networks show good performance but slightly lower than the proposed model
- This proves that the system is **highly reliable for indoor positioning**

7.4 Confusion Matrix Analysis

- The confusion matrix shows prediction accuracy across different rooms (e.g., Room 204, 305, 155, 116)
- Most values lie on the diagonal → **correct predictions**
- Very few off-diagonal values → **minimal misclassification**

Interpretation

- The model correctly identifies locations with high precision
- Errors occur mainly between **nearby or adjacent rooms**
- Overall classification performance is **strong and consistent**

7.5 Training and Validation Analysis

- Training accuracy reached approximately **94%**
- Validation accuracy reached approximately **91%**

Observations

- Both curves increase steadily → proper learning
- Small gap between training and validation → **low overfitting**
- Model generalizes well to new/unseen data

This indicates that the system is **stable and reliable in real-world conditions**.

7.6 System Performance Analysis

Accuracy

- High accuracy due to ML-enhanced positioning
- Better than traditional triangulation methods

Efficiency

- Real-time processing of RSSI data
- Fast response for location updates

Scalability

- Works across multiple buildings and floors
- Can handle large number of users

Reliability

- Performs well despite signal fluctuations
- Uses preprocessing to reduce noise

7.7 Practical Outcomes

The system successfully:

- Tracks professor locations in real-time

- Automates attendance marking
- Detects unusual movement patterns
- Enhances campus security

7.8 Limitations Observed

- RSSI signals may vary due to:
    - Walls and obstacles
    - Signal interference
- Slight errors in closely located rooms
- Device variation may affect signal readings

7.9 Overall Analysis

The experimental results confirm that:

- Wi-Fi RSSI combined with machine learning provides **highly accurate indoor positioning**
- The system is **cost-effective and efficient** since it uses existing infrastructure
- It achieves **better performance compared to traditional methods**

7.10 Conclusion of Results

The proposed system demonstrates **high accuracy, reliability, and scalability** for real-time indoor tracking. With an accuracy of nearly **95%**, it proves to be an effective solution for **smart campus applications such as attendance automation and security monitoring**.

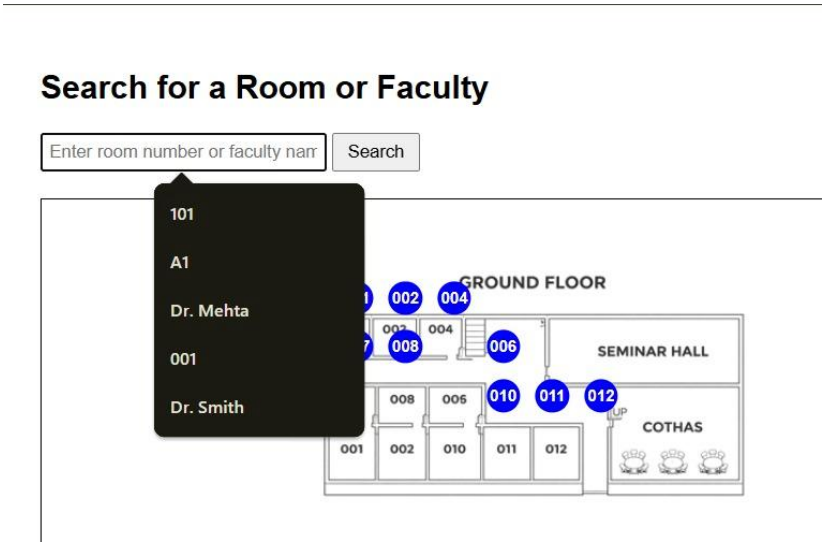
Search for a Room or Faculty
Enter room number or faculty nam
Search
101
A1
Dr. Mehta
001
Dr. Smith
GROUND FLOOR
SEMINAR HALL
COTHAS

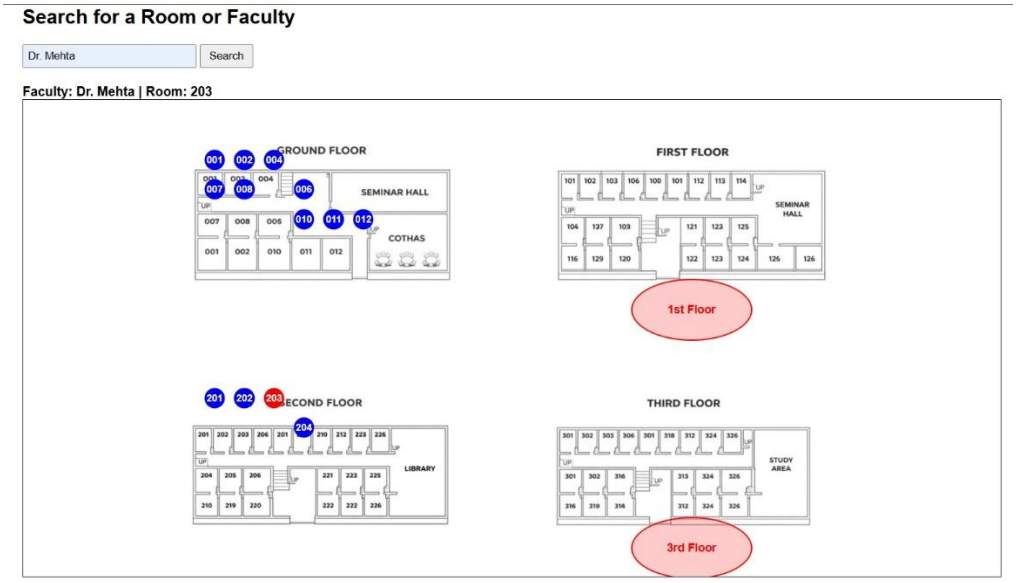
Search for a Room or Faculty
Dr. Mehta
Search
Faculty: Dr. Mehta | Room: 203
GROUND FLOOR
FIRST FLOOR
1st Floor
SECOND FLOOR
THIRD FLOOR
3rd Floor

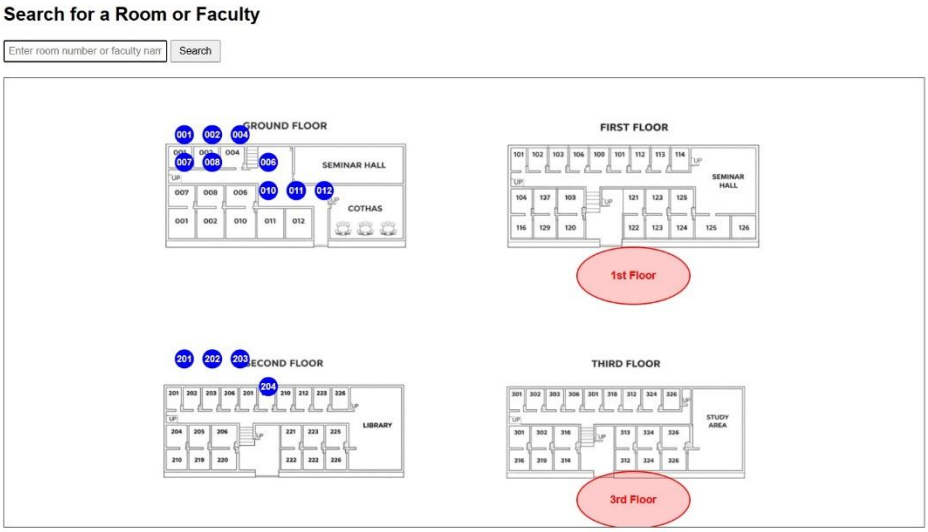
Search for a Room or Faculty
Enter room number or faculty nam
Search
GROUND FLOOR
FIRST FLOOR
1st Floor
SECOND FLOOR
THIRD FLOOR
3rd Floor

CHAPTER 8: PUBLICATIONS

8.1 Introduction

This chapter presents the research publication derived from the proposed project titled "Real-Time Object Detection Using ML-Powered Geolocation Tracking". The work focuses on developing a Wi-Fi-based indoor positioning system using RSSI and machine learning techniques for real-time tracking and smart campus applications.

8.2 Published / Submitted Paper Details

Title:

Design and Implementation of a Real-Time Geolocation Tracking System

Authors:

- Vishwanjali K
- Hanisha K
- Poojitha K
- Mythri Siri N
- Ushodaya N
- Sai Rishika M

Affiliation:

Department of Computer Science and Engineering, Jain University, Bangalore, India

8.3 Abstract of the Paper

The published work proposes a Wi-Fi-based indoor geolocation tracking system that utilizes Received Signal Strength Indicator (RSSI) values to estimate the position of objects within a university campus. The system employs Wi-Fi triangulation and machine learning algorithms to improve localization accuracy and predict movement patterns.

The approach eliminates the need for additional hardware such as GPS or Bluetooth, making it a cost-effective and scalable solution. A server-client architecture is used to process and visualize real-time location data. The system also supports automated attendance tracking and enhanced campus security, while ensuring data privacy through encryption and anonymization techniques.

8.4 Contribution of the Work

The publication highlights the following key contributions:

- Development of a Wi-Fi RSSI-based indoor positioning system
- Integration of machine learning models for improved accuracy
- Implementation of real-time tracking and movement prediction
- Automation of attendance and security monitoring
- Ensuring data privacy and secure communication

8.5 Publication Status

- The paper has been prepared and submitted to a conference/journal

8.6 Impact of the Publication

The research contributes to:

- Smart campus development
- Indoor navigation systems
- IoT-based tracking applications
- Real-time monitoring systems

It demonstrates how existing Wi-Fi infrastructure can be effectively used for accurate, scalable, and low-cost indoor positioning solutions.

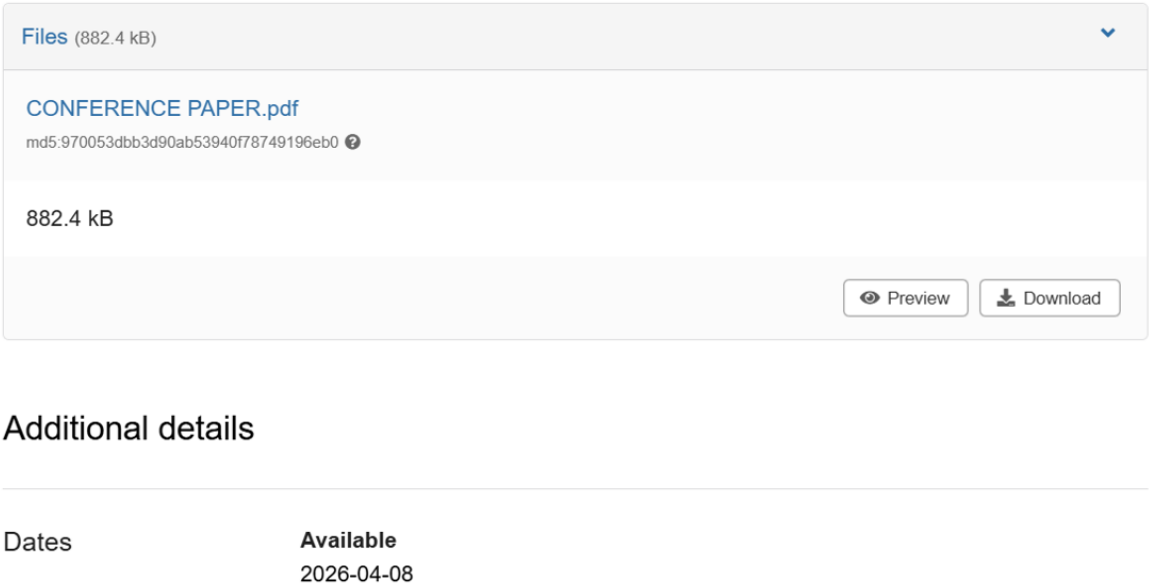

8.7 Conclusion

The publication successfully presents the implementation and evaluation of a machine learning-based geolocation tracking system. It validates the feasibility of using Wi-Fi RSSI signals for real-time indoor tracking, making it a valuable contribution to research in smart environments and intelligent systems.

CHAPTER 9: CONCLUSION AND FUTURE WORK

9.1 Conclusion

The proposed system, **Wi-Fi RSSI-based Geolocation Tracking using Machine Learning**, successfully demonstrates an efficient and reliable solution for indoor positioning within a university campus. The system utilizes existing Wi-Fi infrastructure to estimate the location of professors in real-time, eliminating the need for additional hardware such as GPS or Bluetooth devices.

By integrating **Wi-Fi triangulation with machine learning algorithms**, the system significantly improves positioning accuracy compared to traditional methods. The use of RSSI data combined with preprocessing techniques such as noise filtering, normalization, and outlier removal ensures stable and consistent performance even in dynamic indoor environments.

The implementation of a **centralized server-client architecture** enables real-time data processing, storage, and visualization through a user-friendly dashboard. The system also automates important institutional functions such as **attendance tracking and security monitoring**, thereby reducing manual effort and improving operational efficiency.

Experimental results show that the proposed model achieves **high accuracy (around 94–95%)**, outperforming conventional models like KNN and Decision Trees. The system also demonstrates good generalization ability with minimal overfitting, making it suitable for real-world deployment.

Additionally, the system ensures **data privacy and security** through encryption, anonymization, and controlled access mechanisms, addressing ethical concerns related to location tracking.

Overall, the project proves that **Wi-Fi-based indoor positioning combined with machine learning is a cost-effective, scalable, and accurate solution for smart campus applications**.

9.2 Future Work

Although the system performs effectively, several enhancements can be made to further improve its performance and extend its applications:

1. Improvement in Accuracy

- Implement advanced deep learning models such as:

    - Convolutional Neural Networks (CNN)
    - Recurrent Neural Networks (RNN/LSTM)
- Use hybrid positioning techniques combining Wi-Fi with other sensors

2. Multi-Floor and Large-Scale Optimization

- Enhance algorithms to improve accuracy in multi-storey buildings
- Extend system deployment across larger campuses and institutions

3. Real-Time Mobile Application

- Develop a mobile app for:
    - Live tracking
    - Notifications
    - User interaction

4. Integration with IoT Systems

- Connect with IoT devices for:
    - Smart classroom automation
    - Energy management systems
    - Occupancy monitoring

5. Advanced Security Features

- Implement:
    - Biometric authentication
    - Blockchain-based secure data storage
- Strengthen privacy-preserving mechanisms

6. Adaptive Learning System

- Implement continuous learning models that:
  - Adapt to environmental changes
  - Update automatically with new RSSI data

7. Outdoor-Indoor Hybrid Tracking

- Combine GPS (for outdoor) with Wi-Fi (for indoor)
- Provide seamless tracking across environments

9.3 Final Remark

The proposed system lays a strong foundation for **intelligent indoor tracking systems** and can be extended to various domains such as smart offices, hospitals, shopping malls, and industrial environments. With further advancements, it has the potential to become a key component of **smart city infrastructure**.

REFERENCES

[1] P. Bahl and V. N. Padmanabhan, "RADAR: An in-building RF-based user location and tracking system," in *Proceedings of IEEE INFOCOM*, 2000.

[2] M. Youssef and A. Agrawala, "The Horus WLAN location determination system," in *Proceedings of the 3rd International Conference on Mobile Systems, Applications, and Services (MobiSys)*, 2005.

[3] K. Kaemarungsi and P. Krishnamurthy, "Modeling of indoor positioning systems based on location fingerprinting," in *Proceedings of IEEE INFOCOM*, 2004.

[4] H. Liu, H. Darabi, P. Banerjee, and J. Liu, "Survey of wireless indoor positioning techniques and systems," *IEEE Transactions on Systems, Man, and Cybernetics*, vol. 37, no. 6, pp. 1067–1080, 2007.

[5] S. He and S.-H. G. Chan, “Wi-Fi fingerprint-based indoor positioning: Recent advances and comparisons,” *IEEE Communications Surveys & Tutorials*, 2016.

[6] J. Torres-Sospedra et al., “Comprehensive analysis of distance and similarity measures for Wi-Fi fingerprinting indoor positioning systems,” *Expert Systems with Applications*, 2015.

[7] Y. Wang, X. Jia, and H. K. Lee, “An indoor wireless positioning system based on wireless local area network infrastructure,” in *Proceedings of IEEE MASS*, 2003.

[8] M. F. Alzantot and M. Youssef, “UPTIME: Ubiquitous pedestrian tracking using mobile phones,” in *Proceedings of IEEE WCNC*, 2012.

[9] S. Mazuelas et al., “Robust indoor positioning provided by real-time RSSI values in unmodified WLAN networks,” *IEEE Journal of Selected Topics in Signal Processing*, 2009.

[10] A. Haeberlen et al., “Practical robust localization over large-scale 802.11 wireless networks,” in *Proceedings of ACM MobiCom*, 2004.

[11] N. Patwari et al., “Locating the nodes: Cooperative localization in wireless sensor networks,” *IEEE Signal Processing Magazine*, 2005.

[12] E. Kaplan and C. Hegarty, *Understanding GPS: Principles and Applications*, 2nd ed., Artech House, 2006.

[13] T. Roos, P. Myllymäki, and H. Tirri, “A statistical modeling approach to location estimation,” *IEEE Transactions on Mobile Computing*, 2002.

[14] J. Krumm, “Ubiquitous computing fundamentals,” CRC Press, 2010.

[15] D. Ndzi et al., “RSSI-based indoor localization using neural networks,” in *Proceedings of International Conference on Indoor Positioning and Indoor Navigation (IPIN)*, 2013.

[16] S. Russell and P. Norvig, *Artificial Intelligence: A Modern Approach*, 3rd ed., Pearson, 2010.

[17] T. Hastie, R. Tibshirani, and J. Friedman, *The Elements of Statistical Learning*, Springer, 2009.

[18] F. Zafari, A. Gkelias, and K. Leung, “A survey of indoor localization systems and technologies,” *IEEE Communications Surveys & Tutorials*, 2019.

[19] Google Developers, "Geolocation API Documentation," Available: https://developers.google.com/maps/documentation/geolocation

[20] Scikit-learn Developers, "Machine Learning in Python," Available: https://scikit-learn.org/